Regularización Data Center Hewlett Packard Chile Comercial Ltda.

Figura 1. Vértices del proyecto.

Fuente: Elaboración propia.

Figura 2. Uso de Suelo – Zona del proyecto.

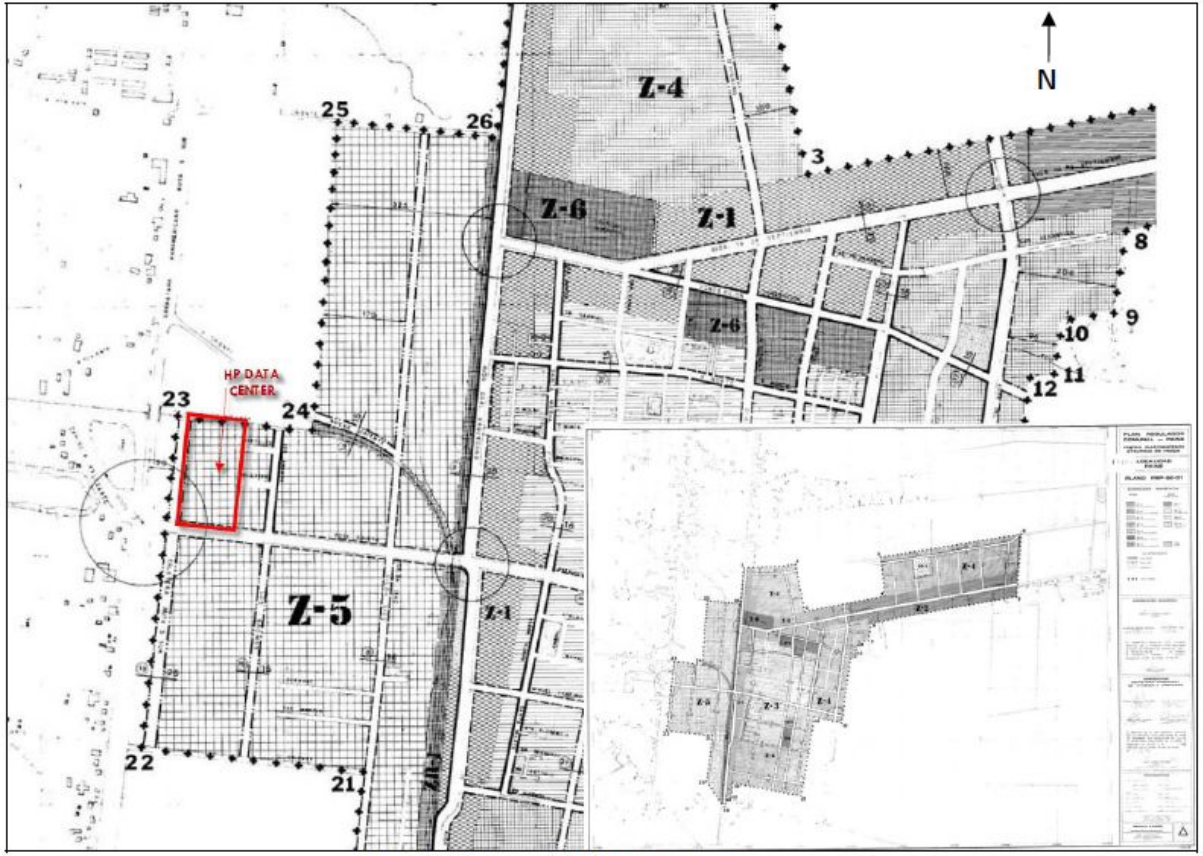

Fuente: Plano Regulador Comunal de Paine, 1993.

Figura 3. Vista general Data Center Paine

Fuente: Hewlett Packard Chile Comercial Ltda.

Figura 4. Planta nivel general Data Center HP Chile.

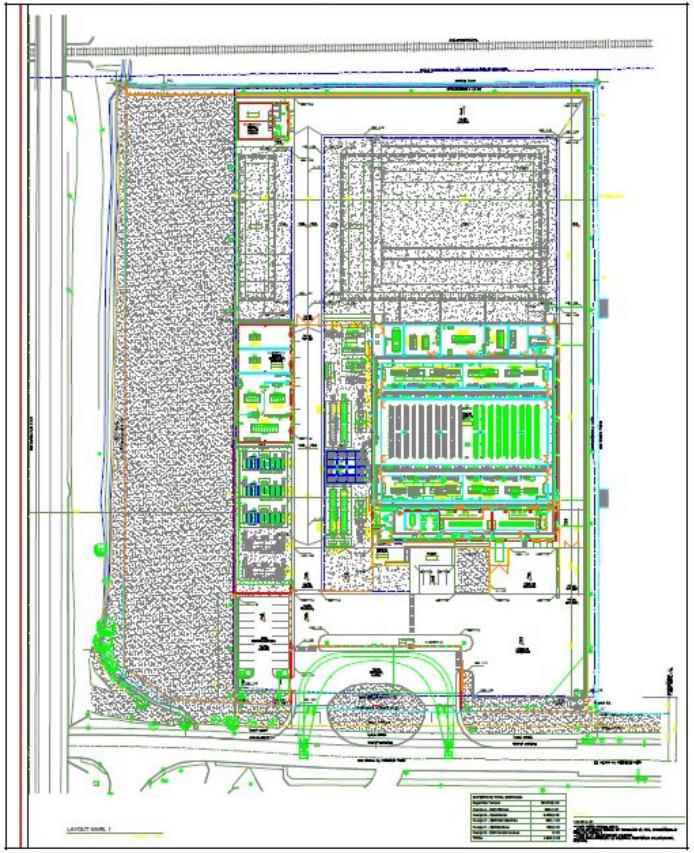

Fuente: Planos de arquitectura.

Figura 5. Corte Longitudinal L1 y L2

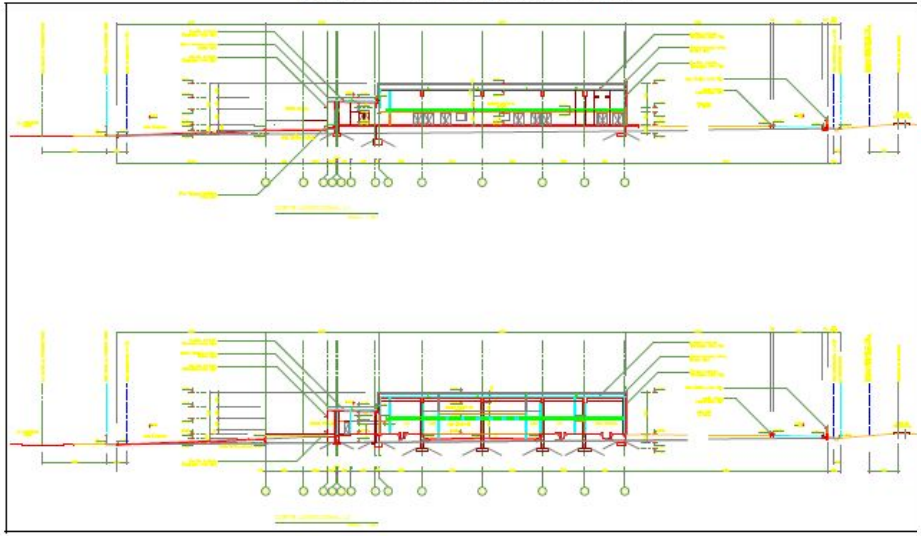

Figura 6. Corte Longitudinal L3 y L4

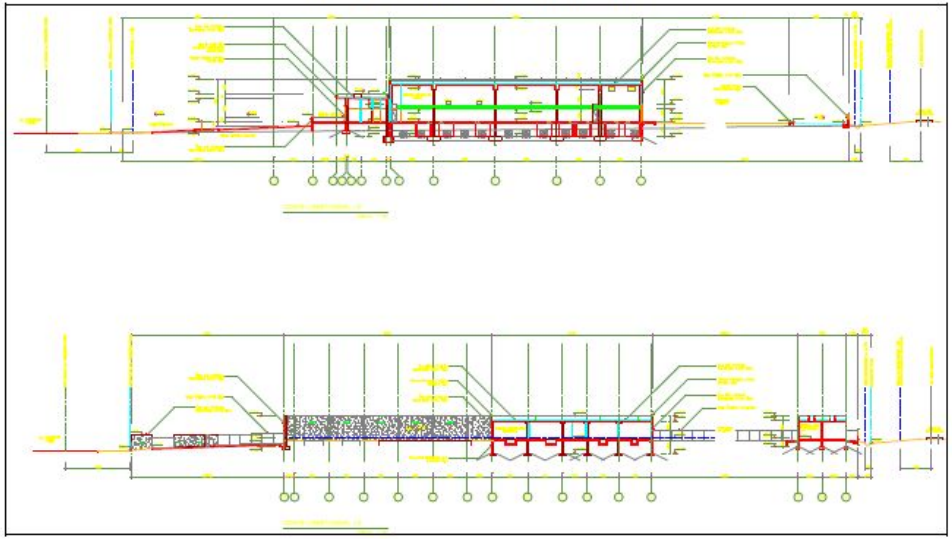

Fuente: Planos de arquitectura.

Figura 7. Elevación E1 y E2.

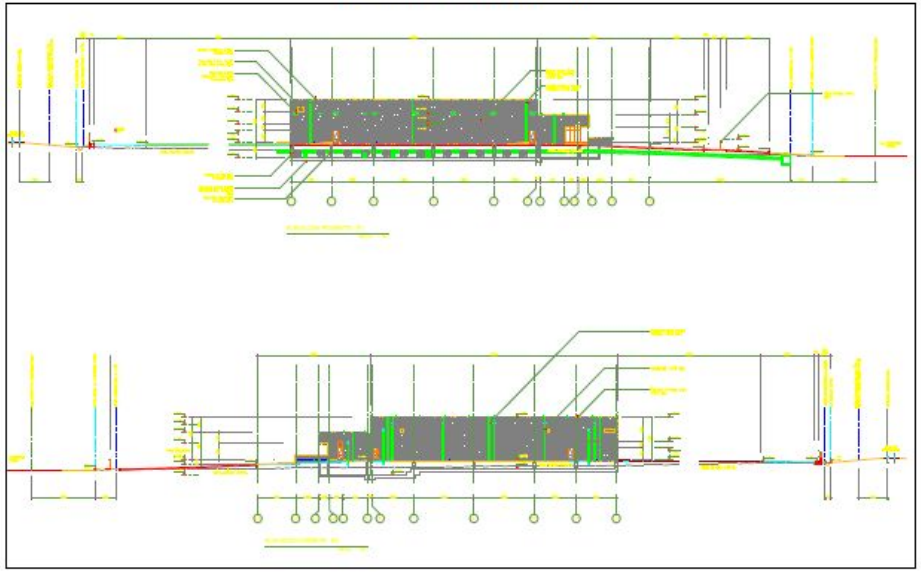

Figura 8. Elevación E3 y E4.

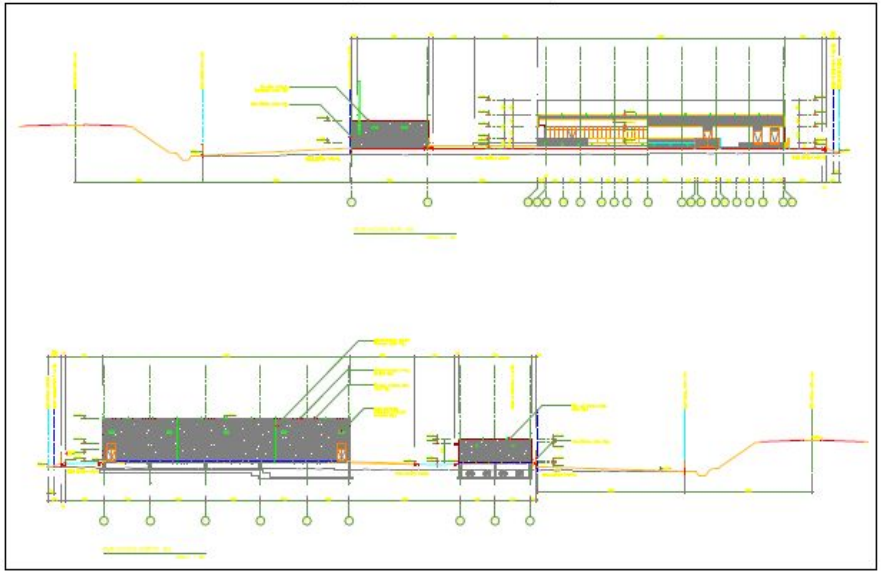

Fuente: Planos de arquitectura.

Figura 9. Plano aprobado por la DOM.

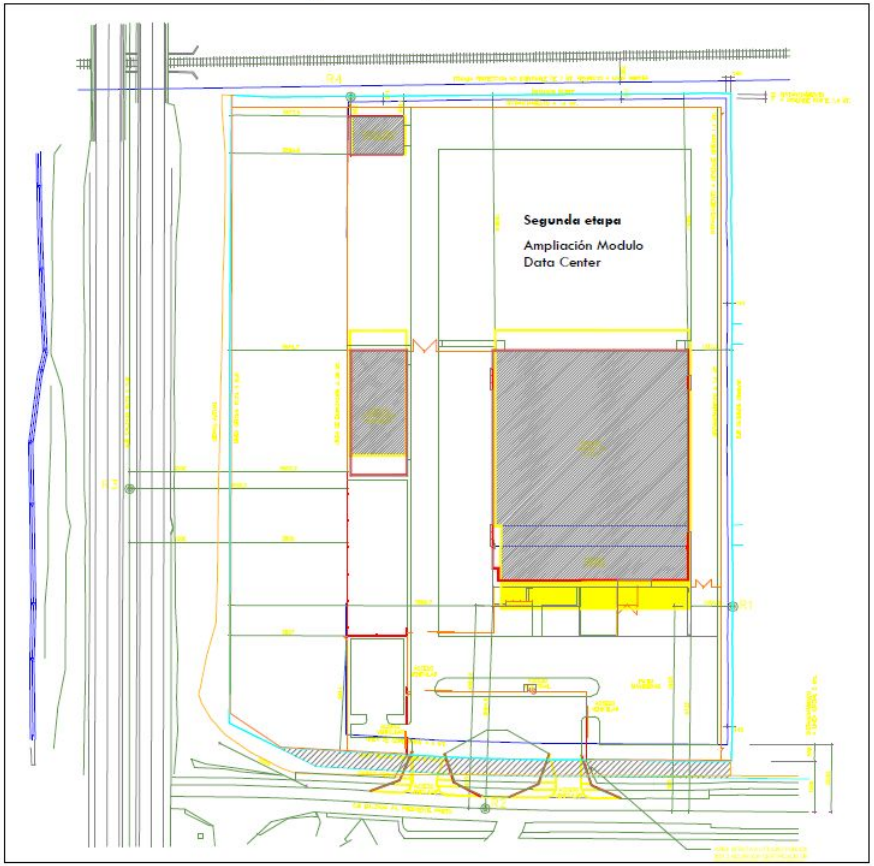

Fuente: Planos de arquitectura – Planos Permiso de edificación.