Data Center Cirion

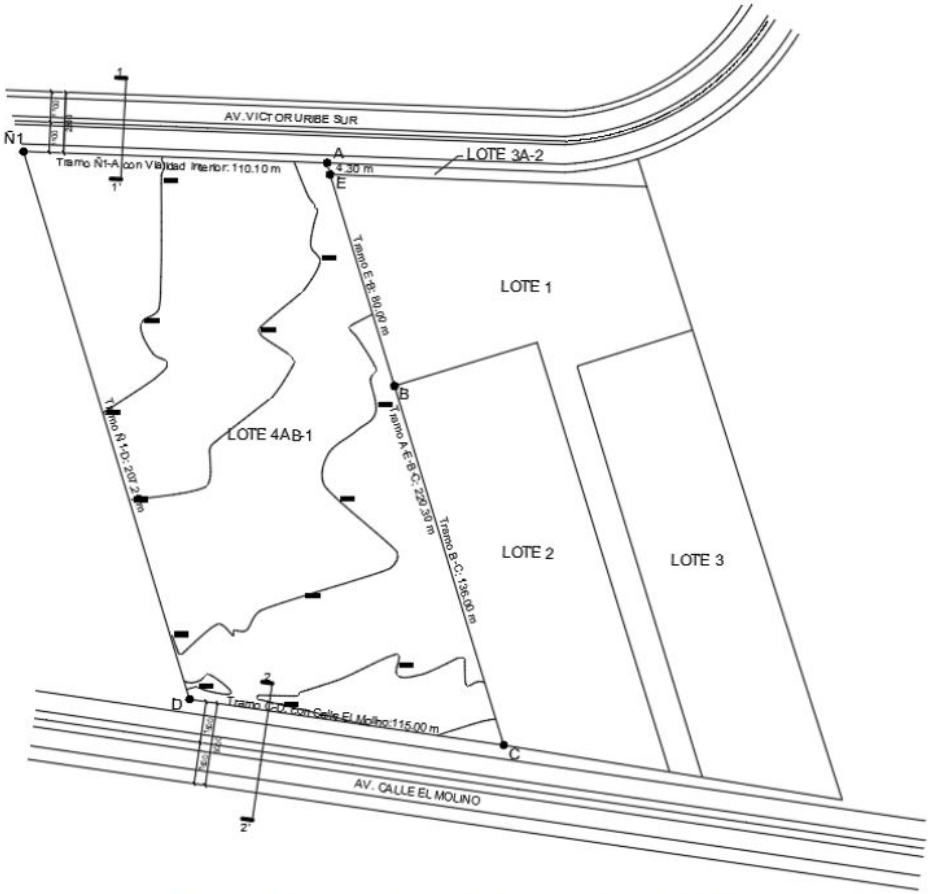

Fuente: Plano fusión predial, Anexo 1.3 de la DIA

Figura 1-2. Ubicación del Proyecto en Datum WGS84

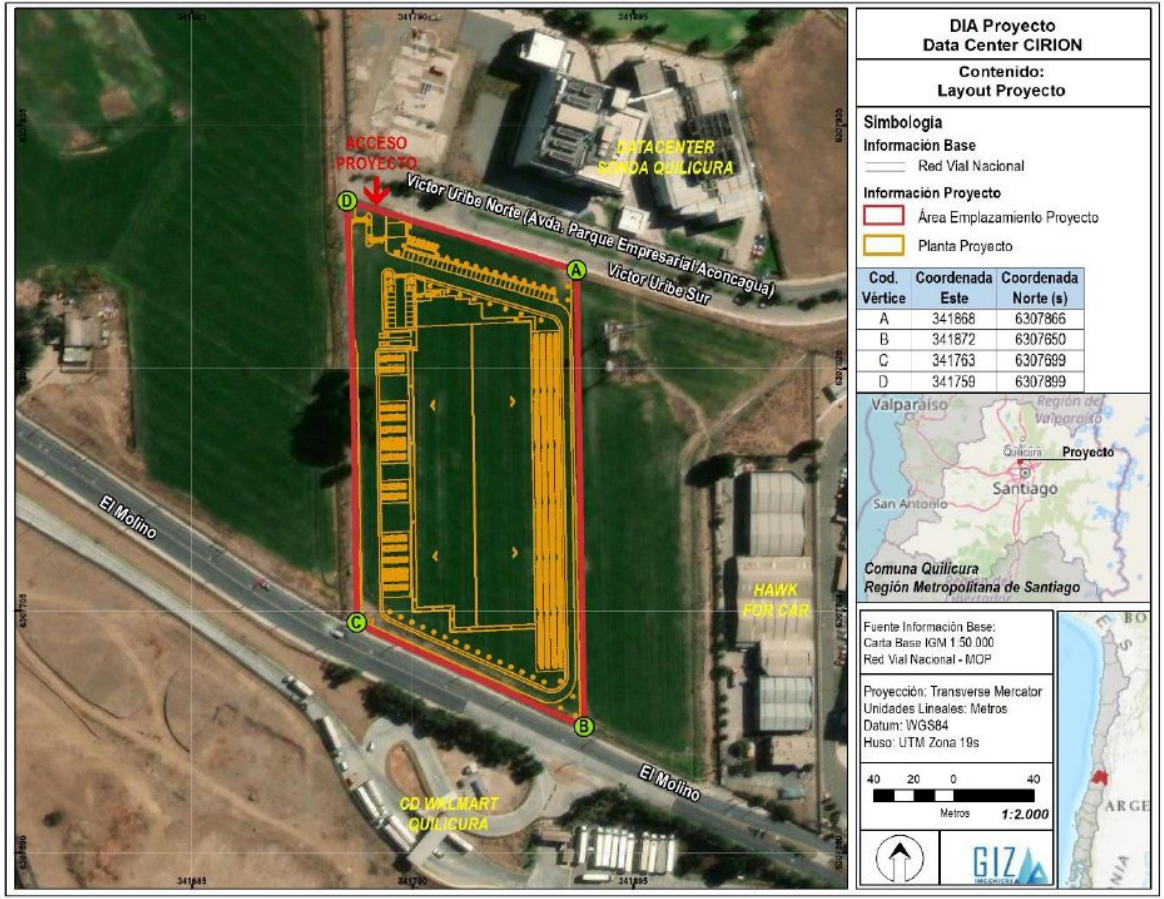

Fuente: Elaboración propia, 2023

Figura 1-19. Layout del edificio data center

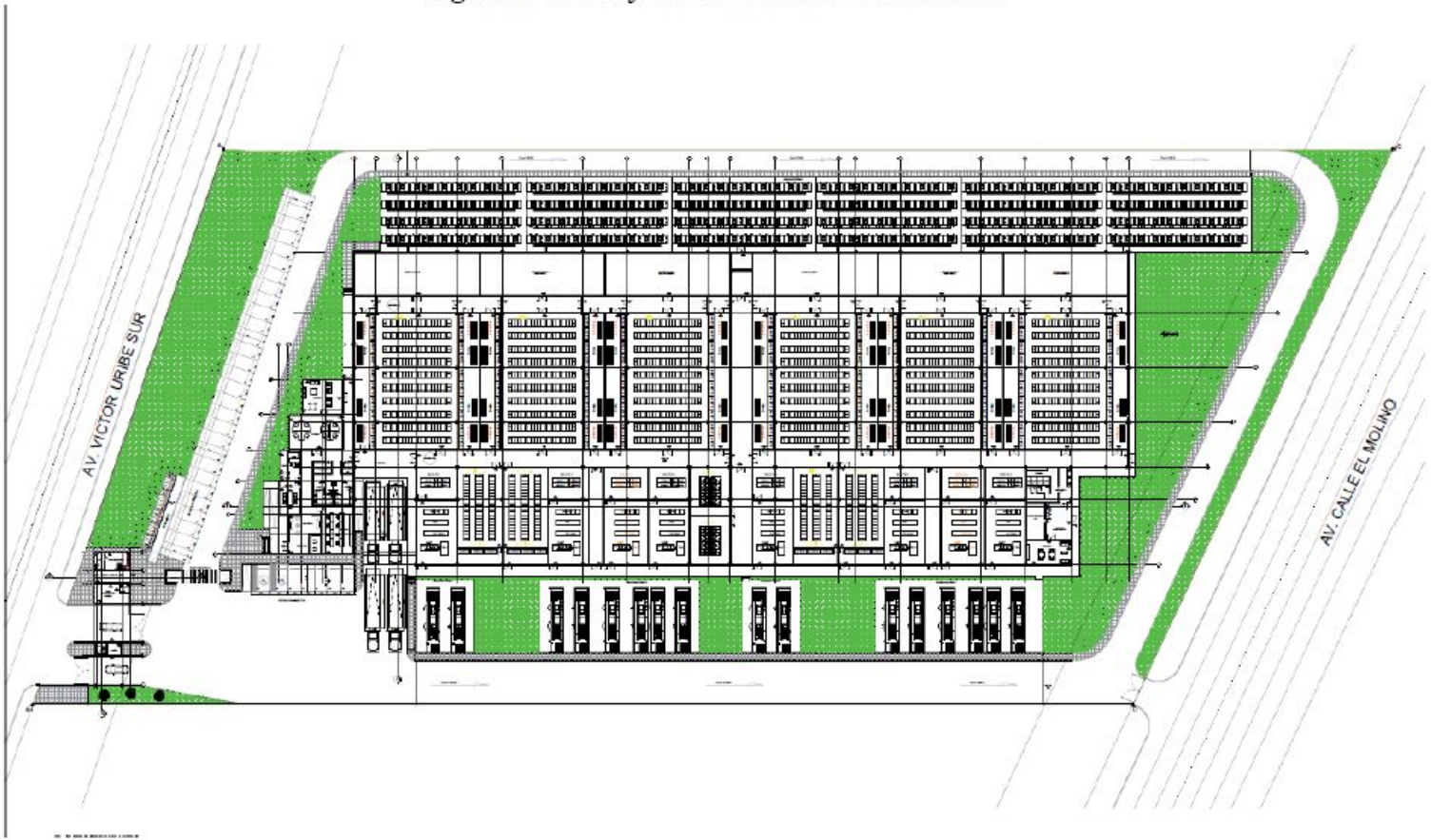

Fuente: Extracto Plano Planta arquitectónica, Anexo 1.3 de la DIA

Figura 1-20. Elevaciones

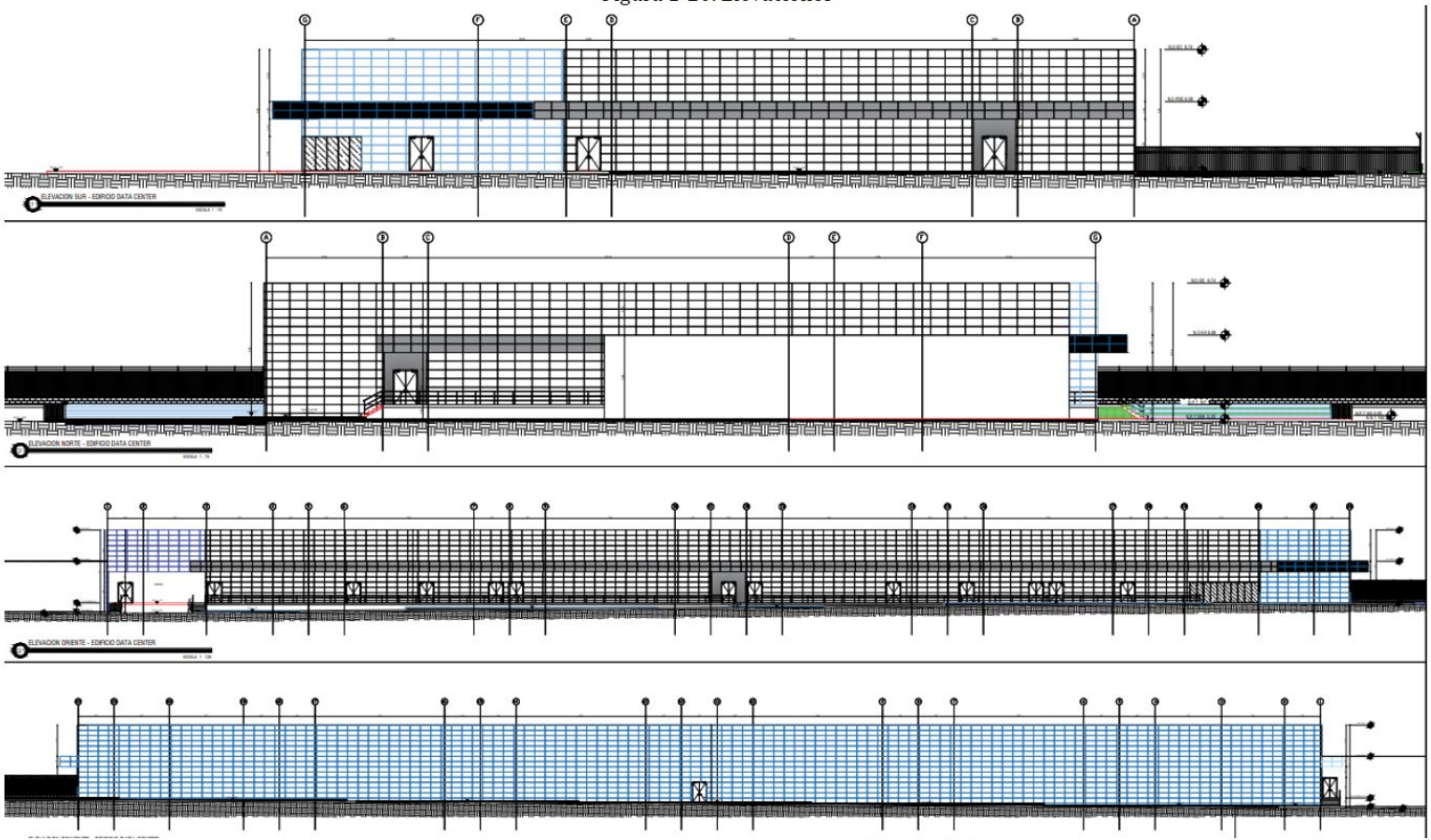

Fuente: Extracto plano Elevaciones, Anexo 1.3 de la DIA

Figura 1-21. Cortes

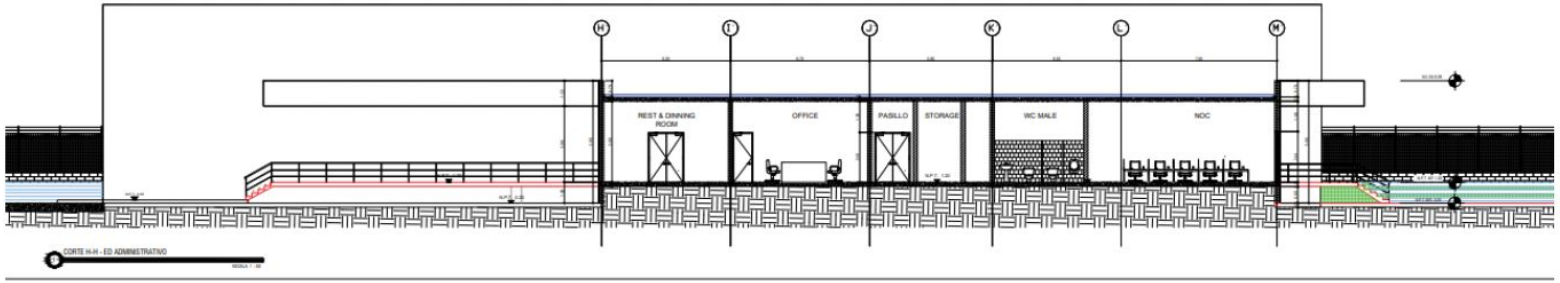

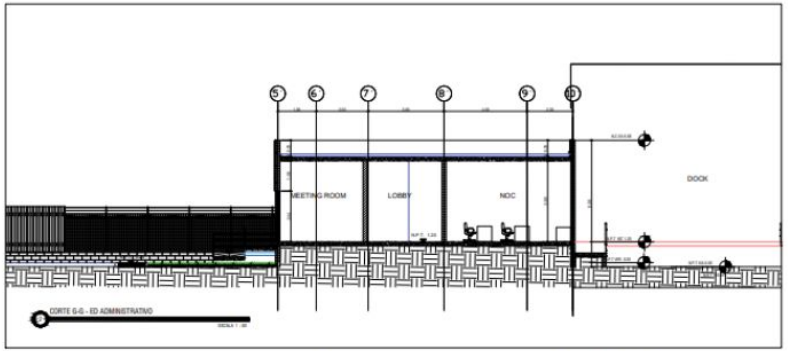

Fuente: Extracto plano Cortes, Anexo 1.3 de la DIA

Figura 1-33. Grupo generador y estanque de combustible

Grupo generador 1850 kW

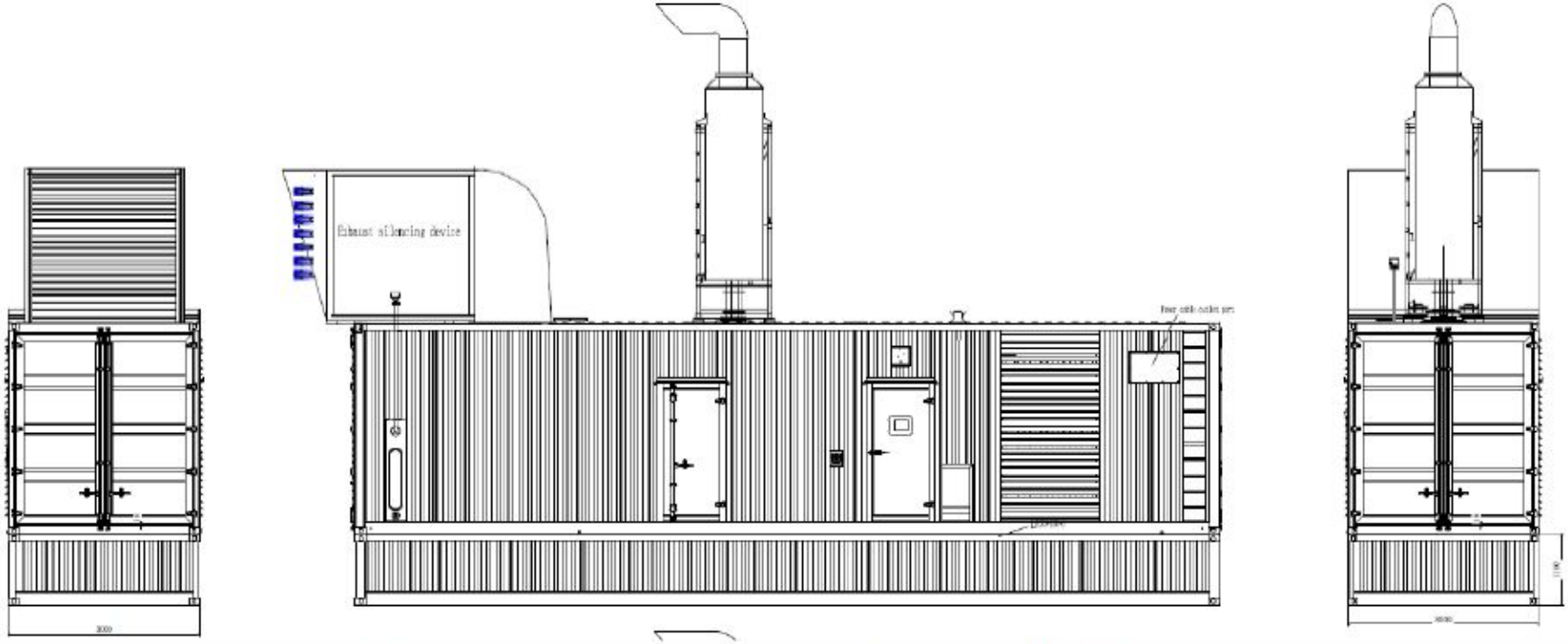

Cabina grupo generador y estanque de combustible (Subbase)

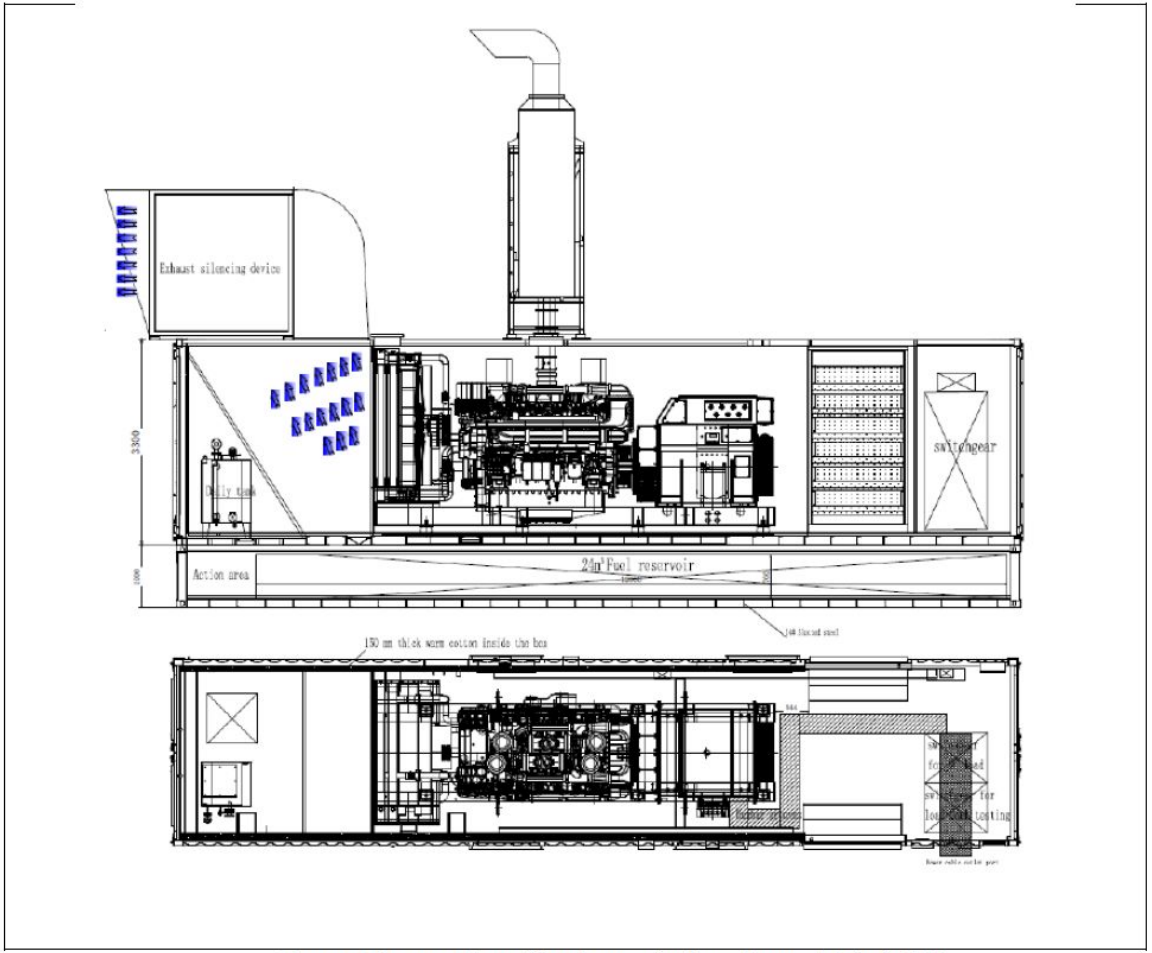

Fuente: Extracto Especificaciones técnicas, Anexo 1.2 de la DIA

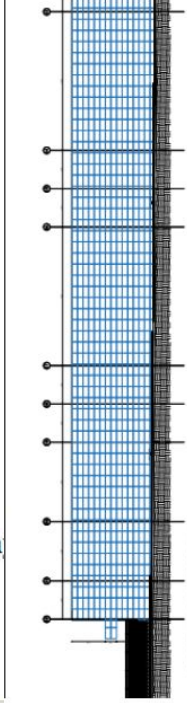

Fuente: Extracto plan

Figura 1-19. La lata center

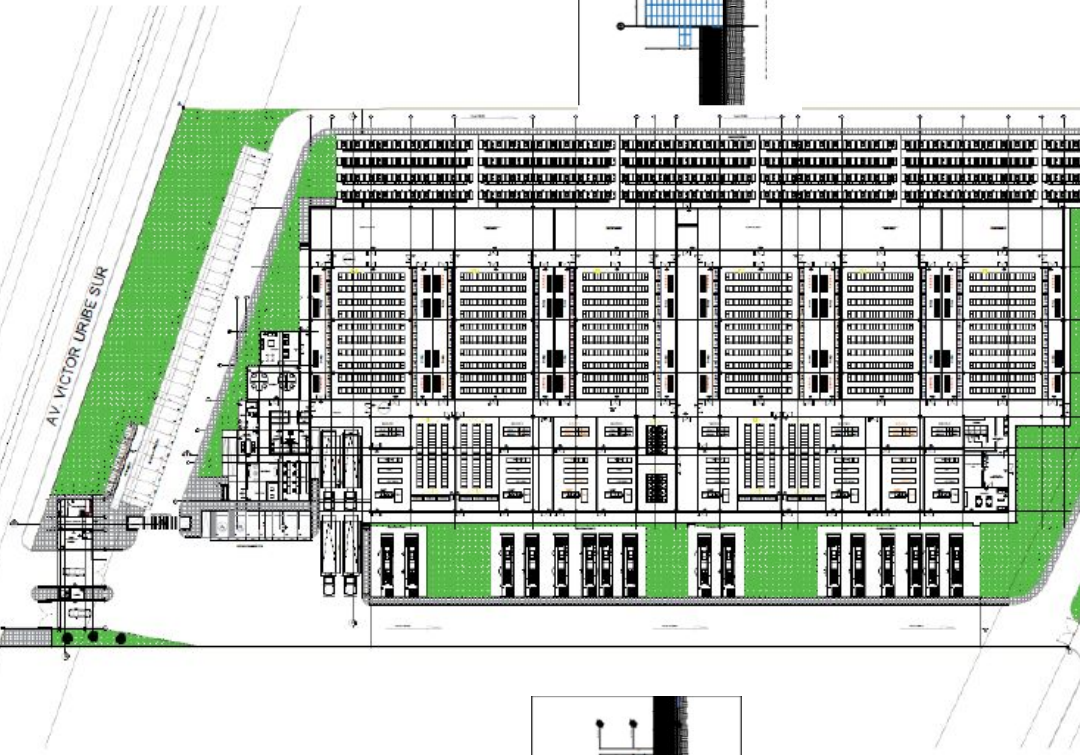

Fuente: Extracto Plano tónica, Anexo 1.3 de la DIA